網際網路地理資訊系統 作業四

B10208017 地理四 鄭哲愷

1. Please design a data collection tool or a schedule maker that allows users to input text, including data types, dates, or upload images, and generate statistical results with charts

執行畫面:

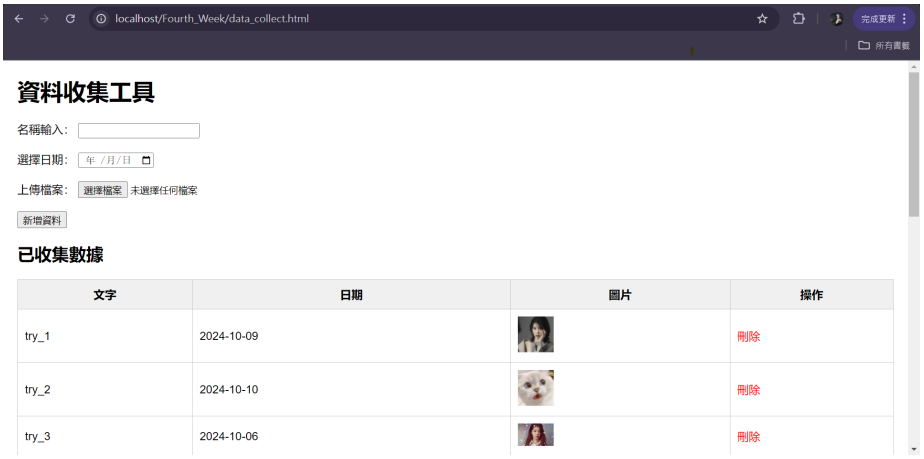

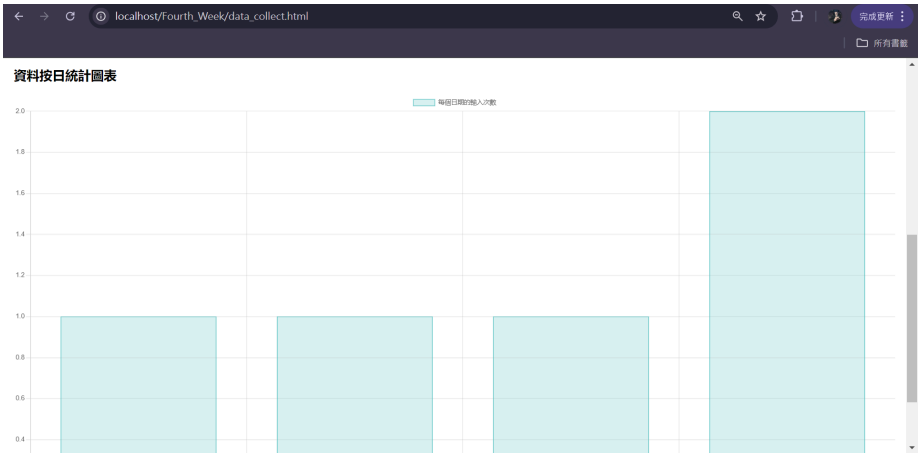

說明:這次作業第一題中，我做的是可以讓使用者上傳相片並輸入相關數據，最後會產生按照日期統計使用者上傳數量的直方圖。

2. Please design traffic phases for a crossroad.

執行畫面:

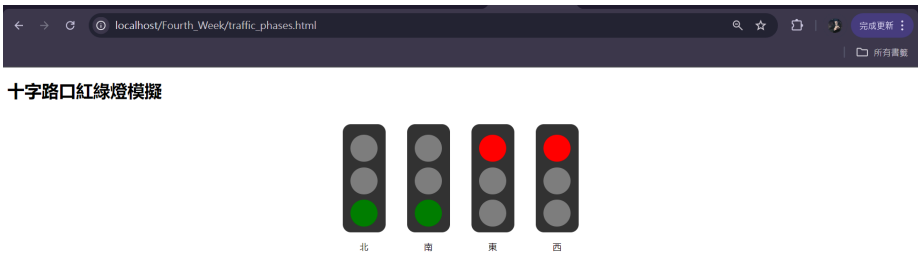

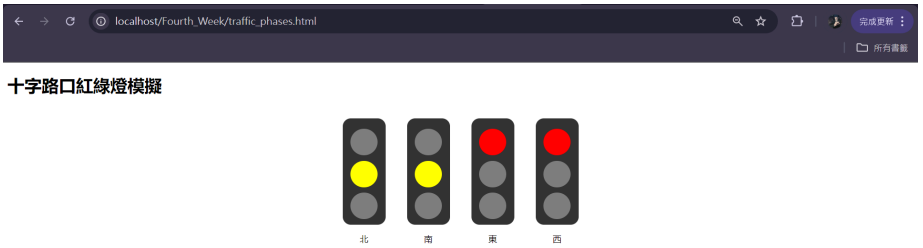

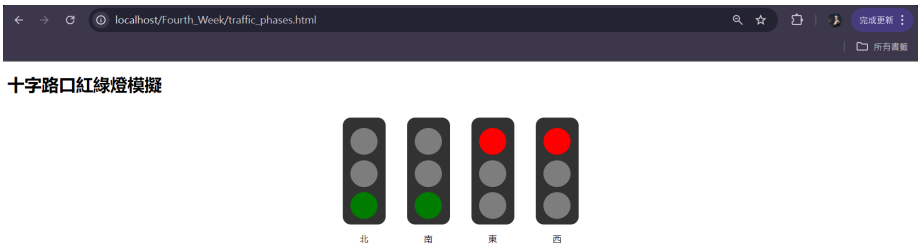

說明:在作業的第二題中紅綠燈的設計，我將十字路口劃分成東西南北共四個方向，並依照固定頻率變換燈號
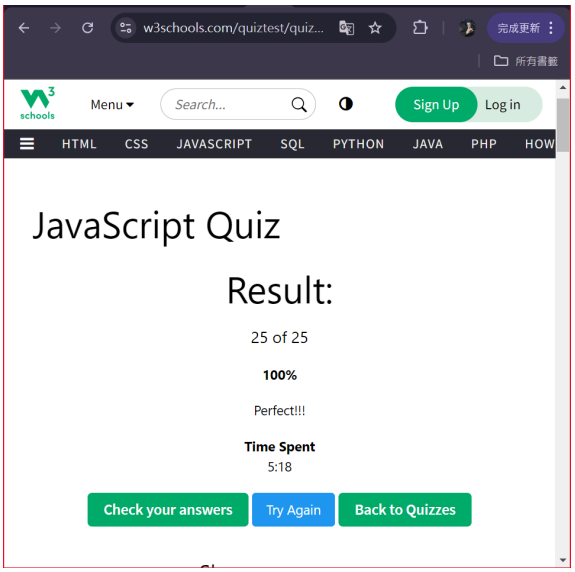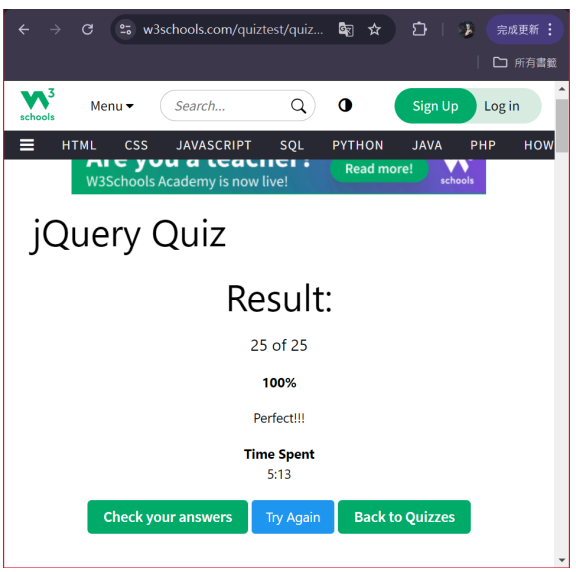
3. Please finish JavaScript and jQuery Quiz on the W3Schools website